CDE2501 | Liveable Cities

Resources for Understanding Site Context

Contents

Page 3 – Resources for Understanding Socio-Economic Context

Page 7 – Resources for Understanding Historical Context

Page 9 – Resources for Understanding Spatial Context

Page 16 – Resources for Understanding Governance Context

Resources for Understanding Socio-Economic Context

Socio-economic context: Where to look?

Resource	Link
2020 Census – Demographic Characteristics	DOS | SingStat Website - Singapore Census of Population 2020, Statistical Release 1: Demographic Characteristics, Education, Language and Religion
2020 Census - Others	DOS | SingStat Website - Singapore Census of Population 2020, Statistical Release 2: Households, Geographic Distribution, Transport and Difficulty in Basic Activities

Examples of maps and data that you will be able to see

Map 8.1 Resident Population Aged 5 Years and Over Unable to Perform/ with A Lot of Difficulty in At Least One Basic Activity by Planning Area of Residence, 2020

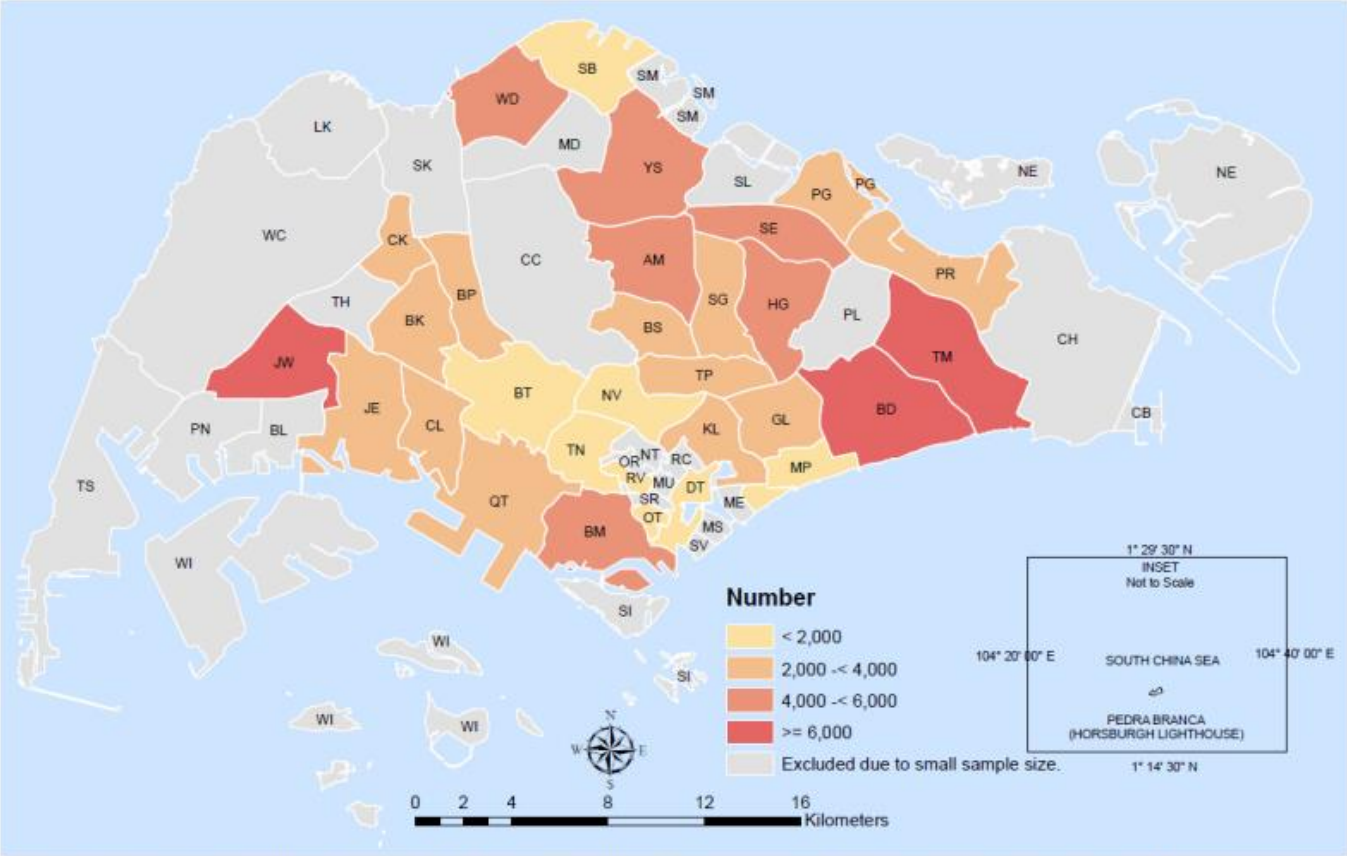

Note: Published map is based on the Urban Redevelopment Authority's Master Plan 2019 planning area boundaries and the Singapore Land Authority's 2020 Singapore island profile. The Master Plan 2019 is a forward-looking guiding plan for Singapore's development in the medium term over the next 10 to 15 years and the planning boundaries may not coincide with existing developments for some areas.

Examples of maps and data that you will be able to see

CENSUS OF POPULATION 2020

Table 88 Resident Population by Planning Area/Subzone of Residence, Age Group and Sex *(cont'd)*

- continued

Number

Planning Area of Residence	Subzone	Total	0 - 4	5 - 9	10 - 14	15 - 19	20 - 24	25 - 29	30 - 34	35 - 39	40 - 44	45 - 49	50 - 54	55 - 59	60 - 64	65 - 69	70 - 74	75 - 79	80 - 84	85 - 89	90 & Over
		Males																			
Jurong East	Total	38,930	1,310	1,470	1,830	2,180	2,460	2,970	2,650	2,420	2,460	2,840	2,810	3,070	3,280	2,960	2,190	990	610	300	120
	International Business Park	-	-	-	-	-	-	-	-	-	-	-	-	-	-	-	-	-	-	-	-
	Jurong Gateway	210	10	10	10	10	10	30	20	20	20	30	20	10	10	10	10	-	-	-	-
	Jurong Port	-	-	-	-	-	-	-	-	-	-	-	-	-	-	-	-	-	-	-	-
	Jurong River	-	-	-	-	-	-	-	-	-	-	-	-	-	-	-	-	-	-	-	-
	Lakeside (Business)	-	-	-	-	-	-	-	-	-	-	-	-	-	-	-	-	-	-	-	-
	Lakeside (Leisure)	570	10	10	10	20	10	30	30	30	30	40	40	40	60	70	60	30	30	10	-
	Penjuru Crescent	-	-	-	-	-	-	-	-	-	-	-	-	-	-	-	-	-	-	-	-
	Teban Gardens	9,250	390	430	460	500	550	610	590	660	640	680	650	720	640	660	560	280	150	60	30
	Toh Guan	7,230	230	260	350	450	520	650	530	450	410	510	520	610	690	530	300	120	60	40	10
	Yuhua East	12,120	350	420	530	650	720	930	810	770	790	900	850	920	1,060	970	740	340	230	110	50
	Yuhua West	9,530	320	340	480	550	650	730	680	490	570	680	740	770	830	730	520	230	130	70	30
Jurong West	Total	131,900	5,430	6,630	7,610	8,310	8,840	9,860	9,010	9,330	10,240	10,790	10,370	10,130	9,050	7,270	4,910	2,120	1,260	540	210
	Boon Lay Place	15,060	800	870	830	860	960	970	1,060	1,230	1,120	1,140	1,220	1,190	990	720	550	280	180	80	30
	Chin Bee	-	-	-	-	-	-	-	-	-	-	-	-	-	-	-	-	-	-	-	-
	Hong Kah	26,650	960	1,120	1,270	1,560	1,680	1,880	1,880	1,710	1,860	2,100	2,030	2,040	2,050	1,900	1,390	630	380	170	50
	Jurong West Central	31,810	1,280	1,810	2,150	2,070	1,870	2,120	2,290	2,550	2,920	2,910	2,420	2,150	2,000	1,620	980	370	200	70	30
	Kian Teck	-	-	-	-	-	-	-	-	-	-	-	-	-	-	-	-	-	-	-	-
	Safti	-	-	-	-	-	-	-	-	-	-	-	-	-	-	-	-	-	-	-	-
	Taman Jurong	19,920	1,060	1,100	1,140	1,250	1,330	1,380	1,420	1,450	1,500	1,550	1,700	1,490	1,290	1,010	660	280	160	100	40
	Wenya	4,170	220	300	350	280	210	230	230	360	450	430	310	230	190	180	110	50	40	20	10
	Yunnan	34,250	1,120	1,440	1,870	2,290	2,790	3,280	2,130	2,030	2,390	2,650	2,680	3,040	2,520	1,830	1,230	520	300	110	50
Kallang	Total	50,040	1,980	2,180	2,080	2,180	2,290	2,900	3,480	3,410	3,860	4,030	3,820	3,900	4,100	3,450	2,760	1,580	1,190	530	320
	Bendemeer	18,240	950	940	760	700	740	1,130	1,550	1,550	1,540	1,330	1,200	1,200	1,320	1,180	930	540	420	180	90
	Boon Keng	5,630	180	220	200	230	280	360	450	370	380	410	440	470	480	400	330	180	140	60	40
	Crawford	4,630	100	100	120	140	160	220	210	190	250	310	360	490	580	460	400	230	180	70	60
	Geylang Bahru	5,620	140	160	220	280	330	340	340	300	380	460	500	520	500	390	310	180	150	70	40
	Kallang Bahru	-	-	-	-	-	-	-	-	-	-	-	-	-	-	-	-	-	-	-	-
	Kampong Bugis	460	20	10	10	20	30	50	40	30	30	40	30	30	40	40	30	10	10	-	-
	Kampong Java	5,140	180	270	270	260	260	310	310	310	400	440	390	390	400	330	280	160	120	50	30
	Lavender	5,070	190	210	210	230	230	270	330	320	380	470	400	390	440	370	290	140	120	60	40
	Tanjong Rhu	5,230	210	270	300	320	260	230	270	340	490	570	500	410	350	280	190	130	70	30	20
Lim Chu Kang	Total	60	-	-	10	-	-	-	-	-	-	10	-	10	10	10	10	-	-	-	-
	Lim Chu Kang	60	-	-	10	-	-	-	-	-	-	10	-	10	10	10	10	-	-	-	-

Note: Planning areas refer to areas demarcated in the Urban Redevelopment Authority's Master Plan 2019.

209

Resources for Understanding Historical Context

Historical context: Where to look?

- The Centre for Liveable Cities (CLC) Urban Systems Studies provides a good overview of certain planning/implementation decisions that shaped Singapore's urban fabric and why they were made: Publications | Centre for Liveable Cities Knowledge Hub
- Read about past Singapore newspaper articles that mention your site at NewspaperSG: NewspaperSG
- Search on Roots SG for articles about your site's heritage and history: Roots
- Overlay historical maps of Singapore to see the evolution of different parts of Singapore: Historical Maps of Singapore - NUS Libraries - Digitised by Department of Geography, National University of Singapore / Historical Maps of Singapore, digitised by Department of Geography, National University of Singapore

Resources for Understanding Spatial Context

Spatial context: Where to look?

- You could refer to Google Maps to understand how different urban features are arranged beside each other
- Another useful resource is URA's URA SPACE
  - This shows the latest Master Plan (currently Master Plan 2019)
  - The Master Plan is a statutory land use plan that guides Singapore's development in the medium term over the next 10 to 15 years

Using URA SPACE

Clicking on **'Legend'** shows the meanings of the colours on the Master Plan **on the left side of your window** - each colour represents a different land use (scroll down to see more land uses)

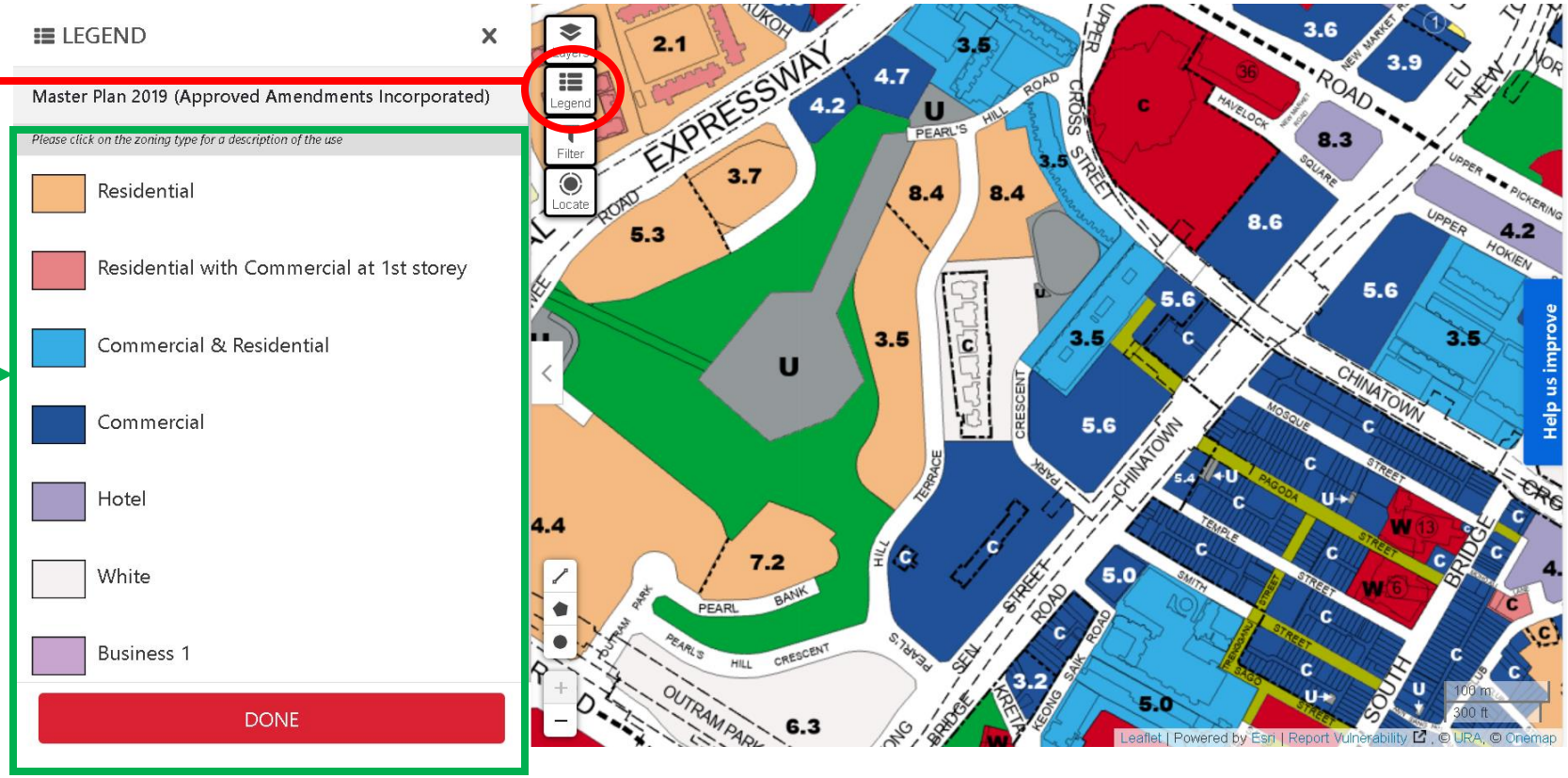

Using URA SPACE

Alternatively, you can click on the location of your interest to drop a pin. It will show the land use on the left side of your screen, with an explanation of the meaning of the land use

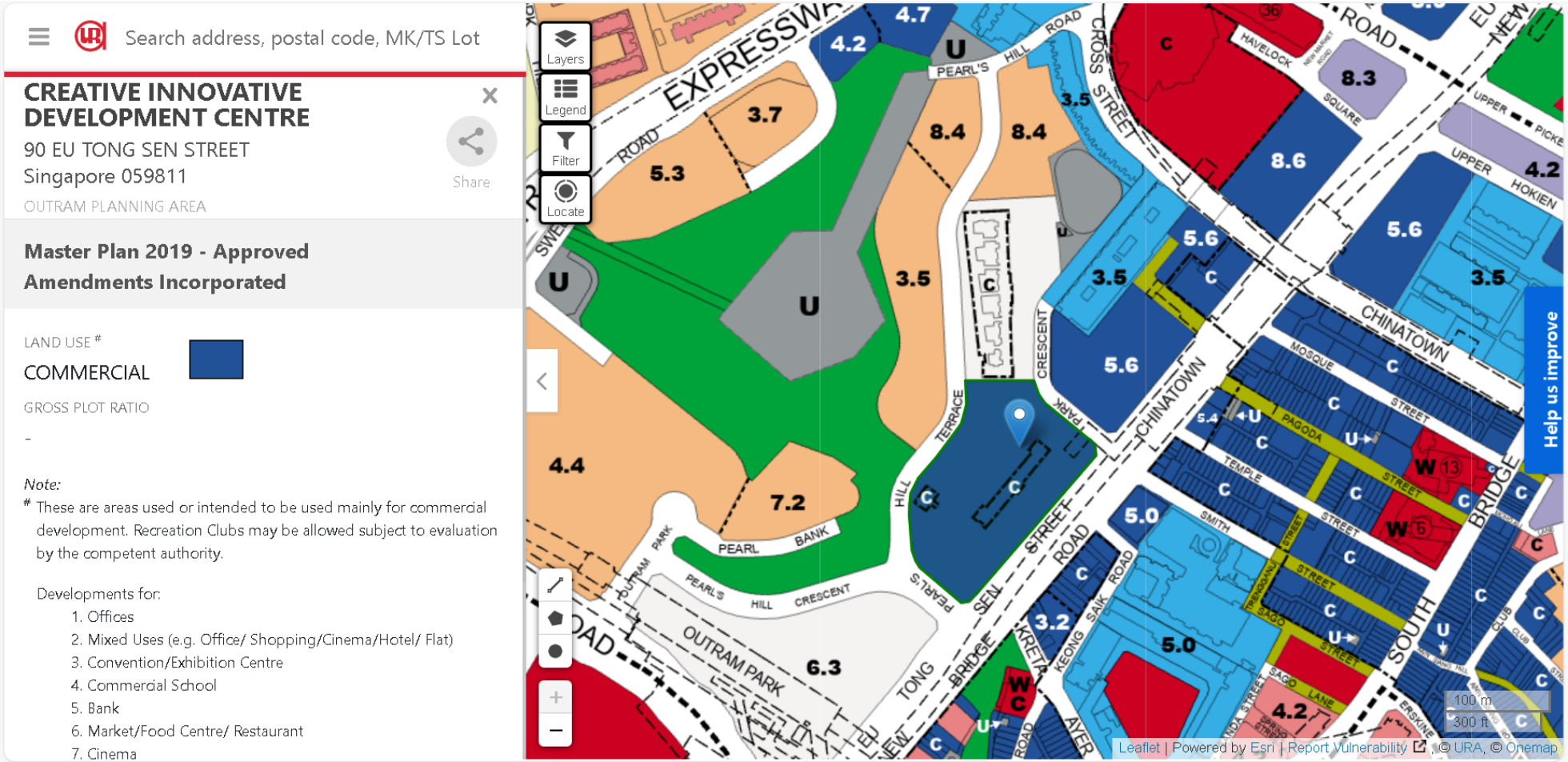

Using URA SPACE

You can also see OneMap (similar in style to Google Maps) by going to **'Layers',** and selecting 'OneMap' while switching off 'Master Plan 2019'

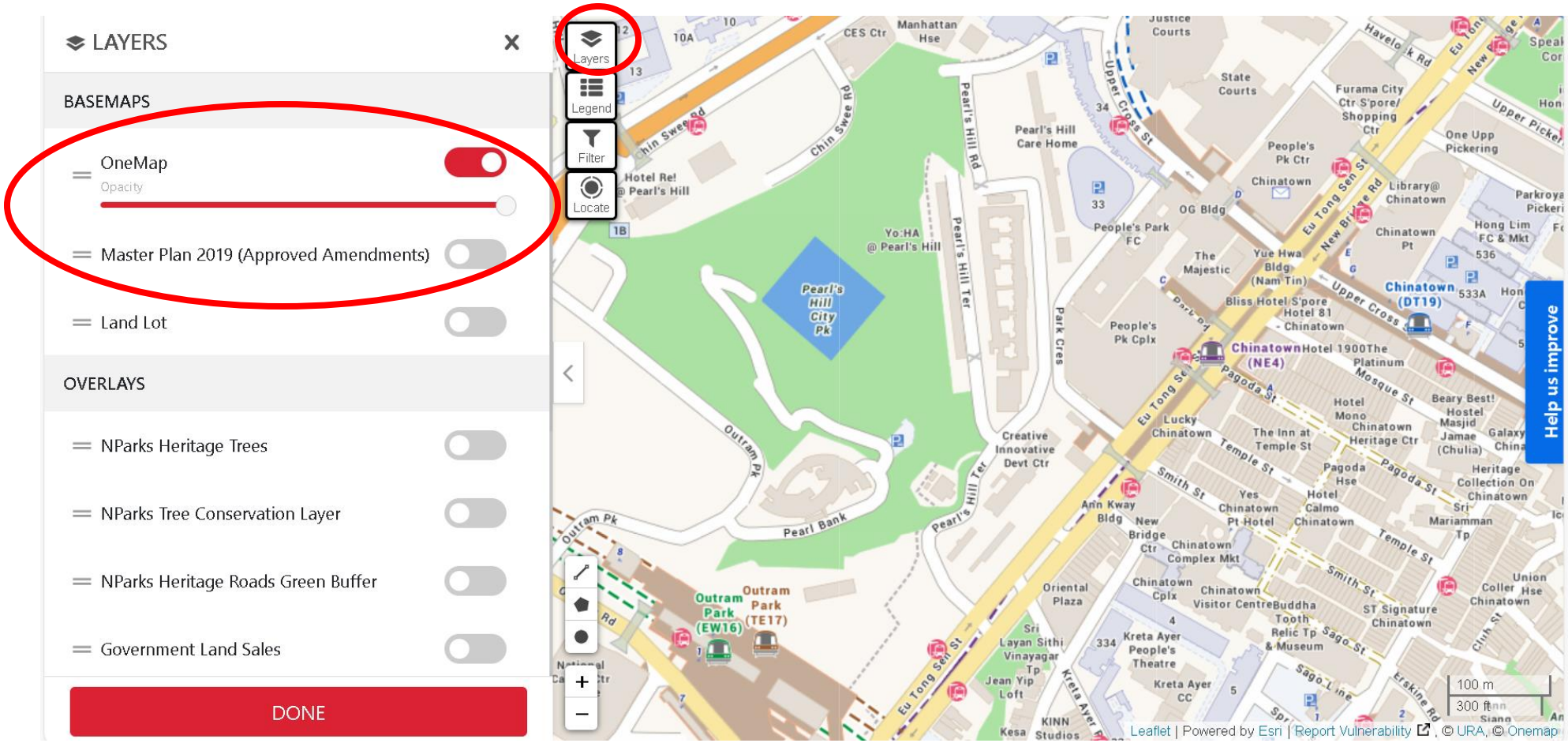

Using URA SPACE

You can also do the same thing of dropping a pin to reveal the land use designated by the Master Plan 2019 on OneMap

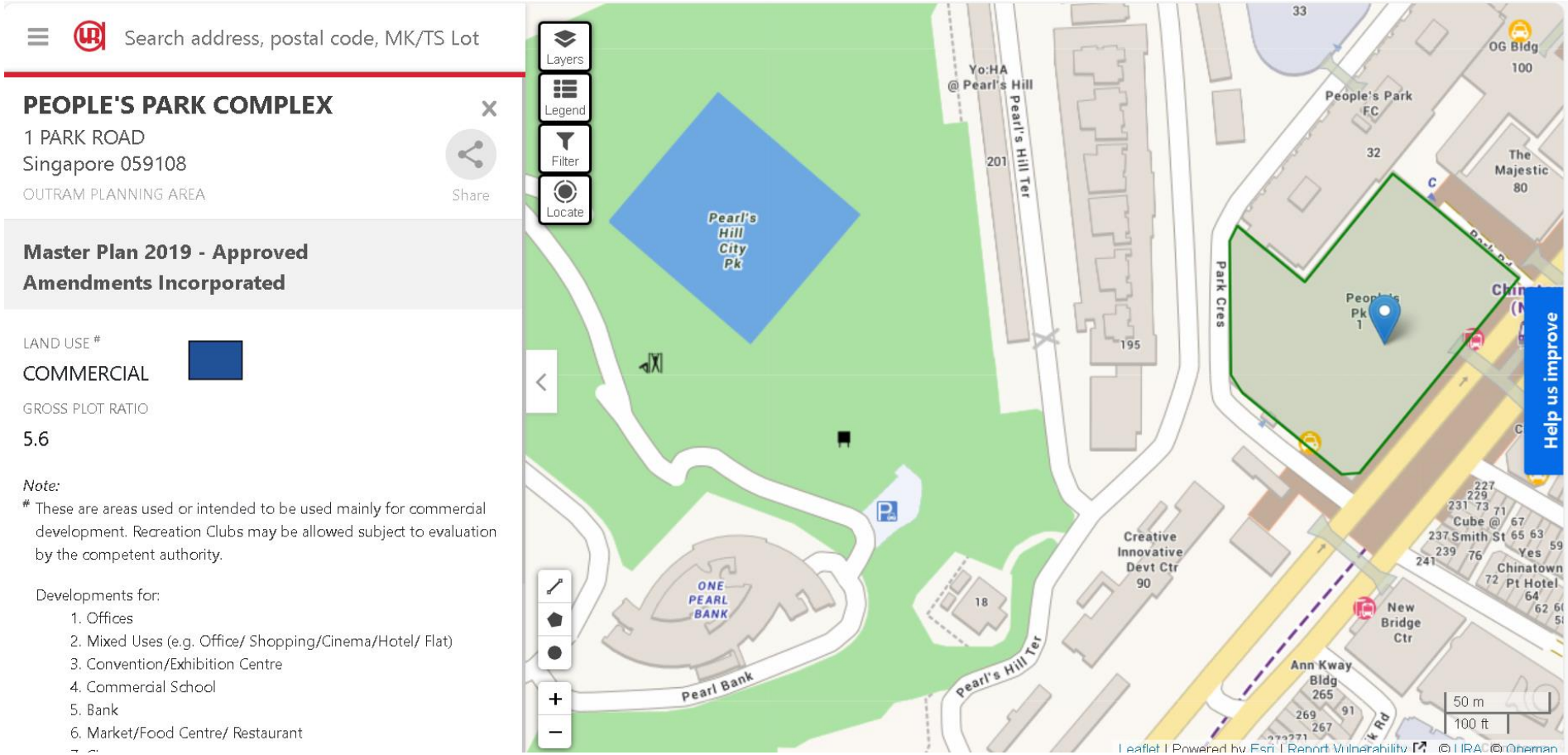

Using URA SPACE

You can also change the **Opacities** of OneMap and Master Plan 2019 in **'Layers'** to create an overlay effect where you can see both at the same time

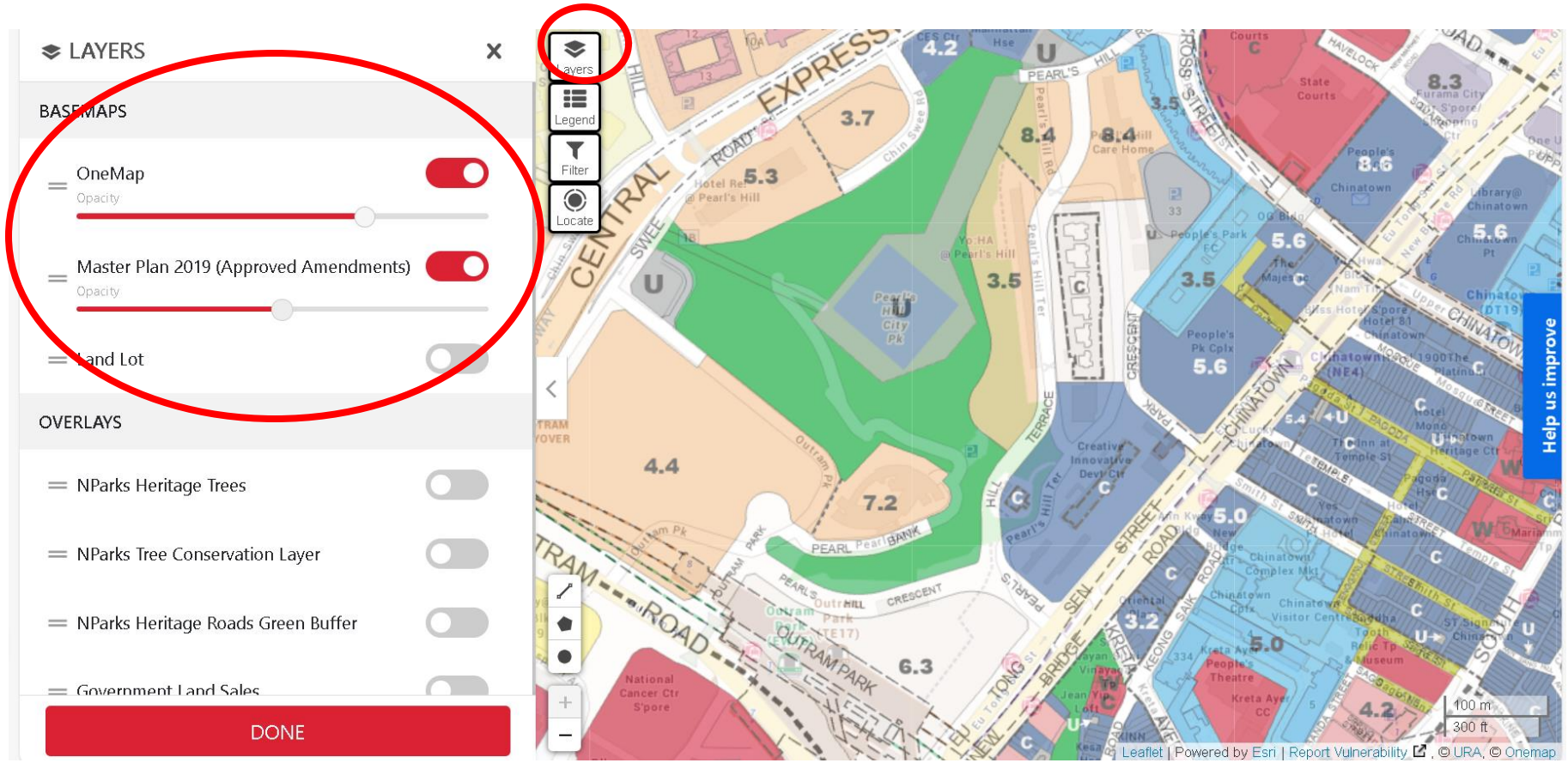

Resources for Understanding Governance Context

Governance context: Where to look?

- Government ministries and agencies/statutory boards: search up the official websites of these organisations to find out about their aims and jurisdiction
- Private sector and the public:
  - URA has started initiatives to give the private sector and the public more of a say and control in how public spaces are designed and used through programmes such as Streets for People, Lively Places Programme and Business Improvement Districts
  - For more information, visit: Placemaking and Partnership
  - HDB has also involved the private sector and the public in the management of its housing estates. CLC's Urban Systems Studies covers this: Enhancing Liveability, Fostering Communities: Estate Management For Singapore's Public Housing | Centre for Liveable Cities Knowledge Hub